Spatial Data Modeling
Project Presentation

Andrii Khomenko

AGH University of Science and Technology in Krakow

April 4, 2026

Study Area on the Map

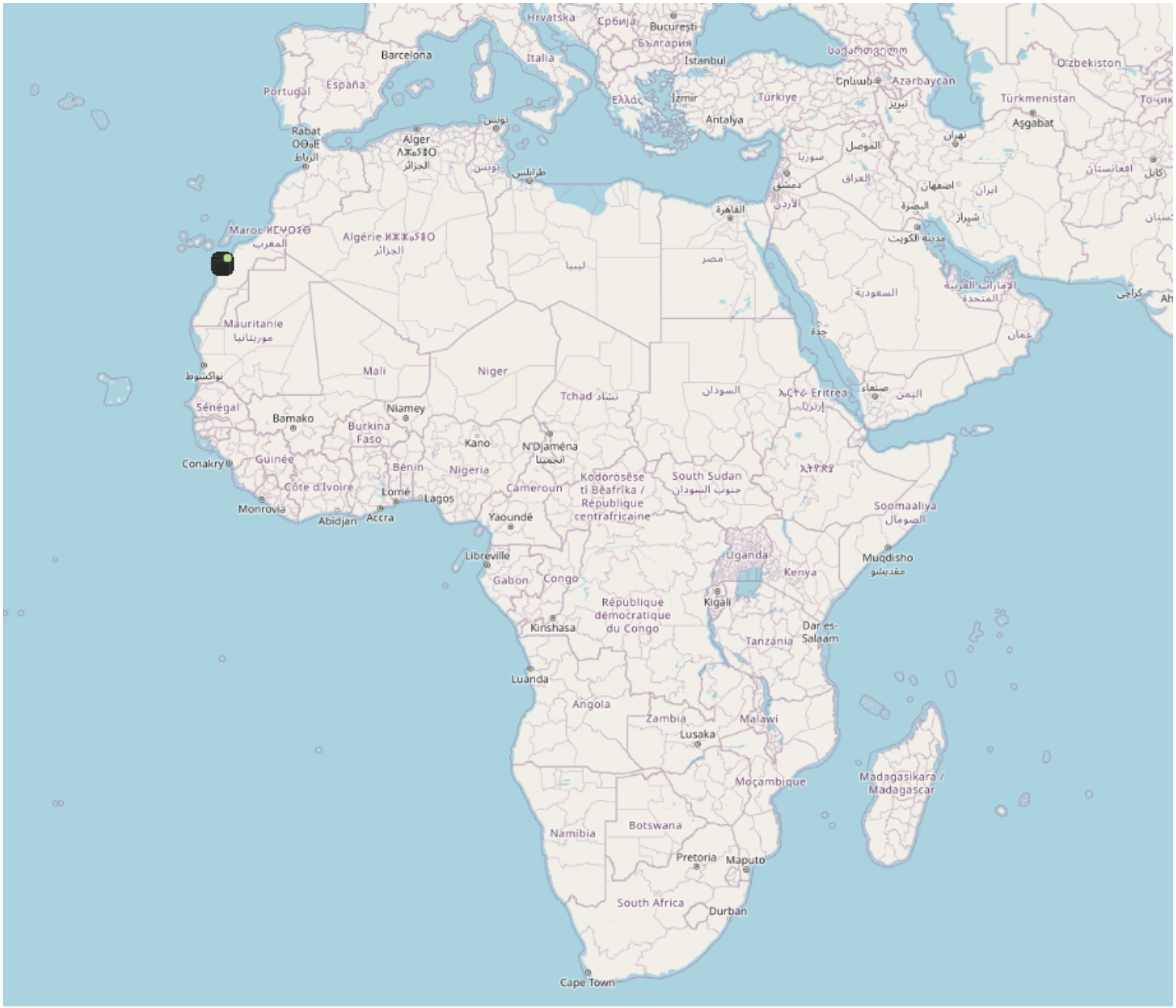

Basic Information

The study area is located off the northwestern coast of Africa, within the eastern part of the Atlantic Ocean, near the coastline of Morocco and Western Sahara. The analyzed region includes both a fragment of land and the adjacent marine zone, enabling simultaneous analysis of terrain morphology and seabed bathymetry.

The elevation range in the study area varies from approximately **+122 m** to **-2750 m**, indicating the presence of steep bathymetric slopes and significant morphological diversity.

Sources:

- OpenStreetMap

TIN Interpolation Map Generated in QGIS

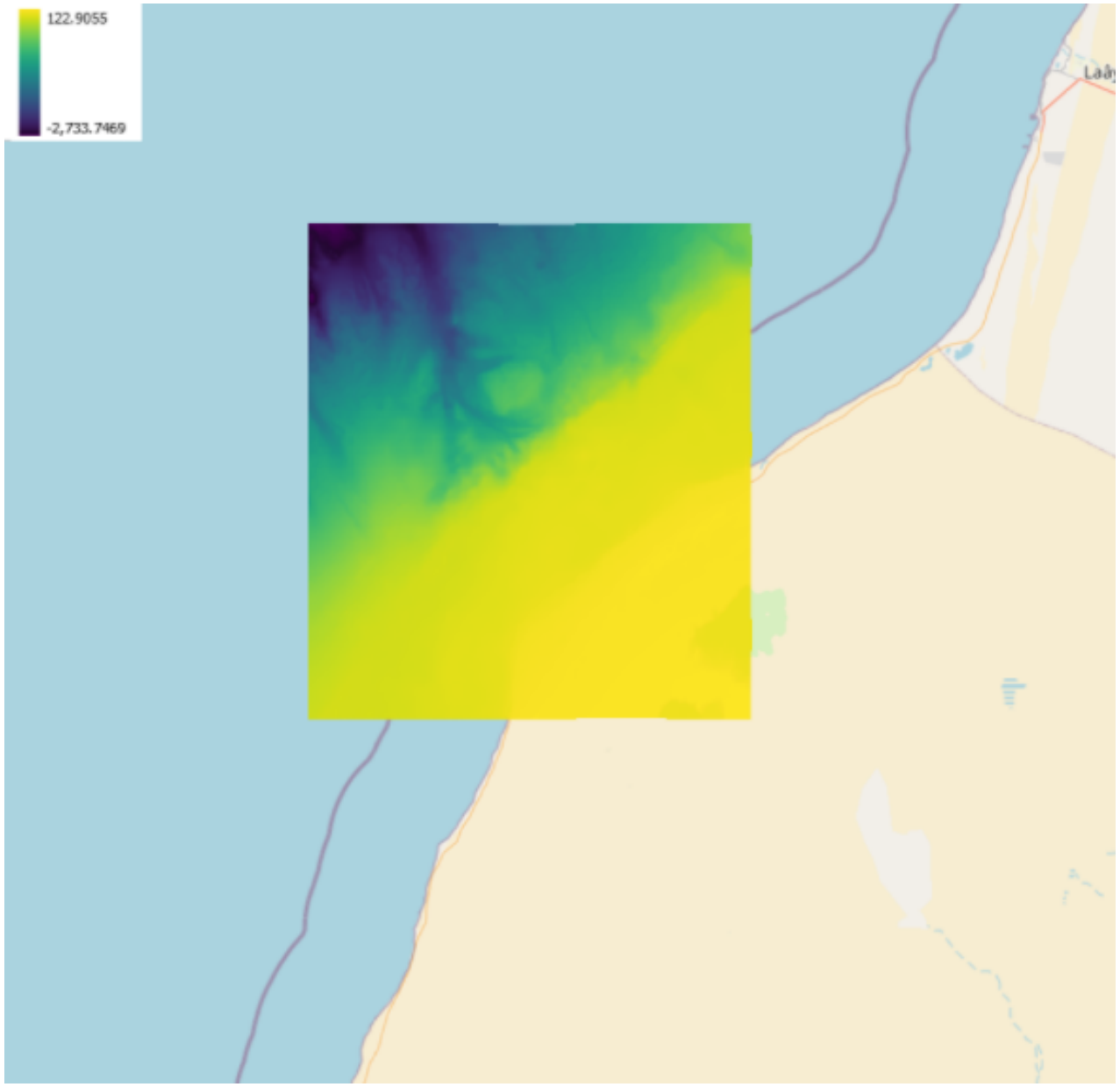

Azimuth Map (QGIS)

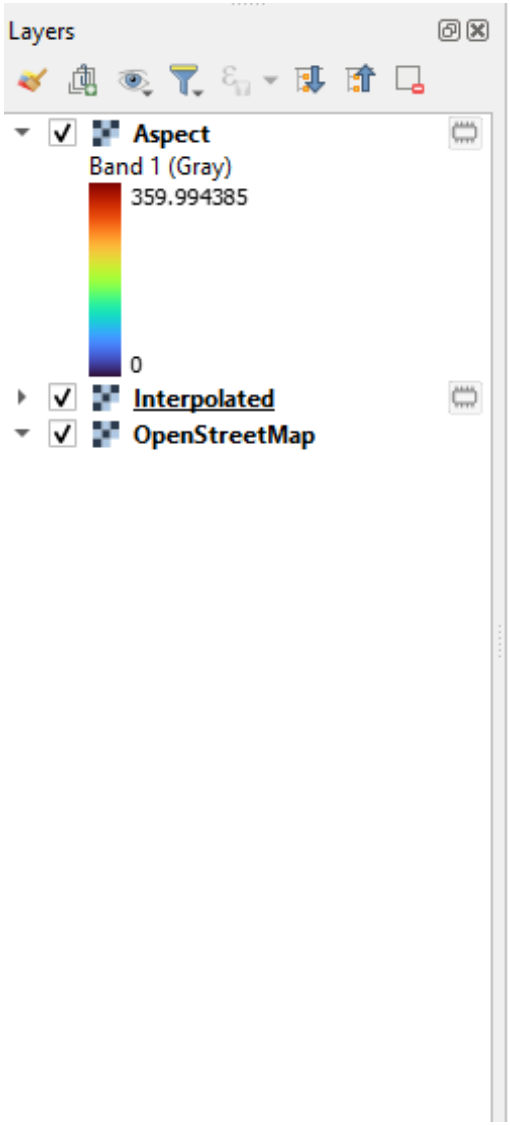



Azimuth Map (ParaView)

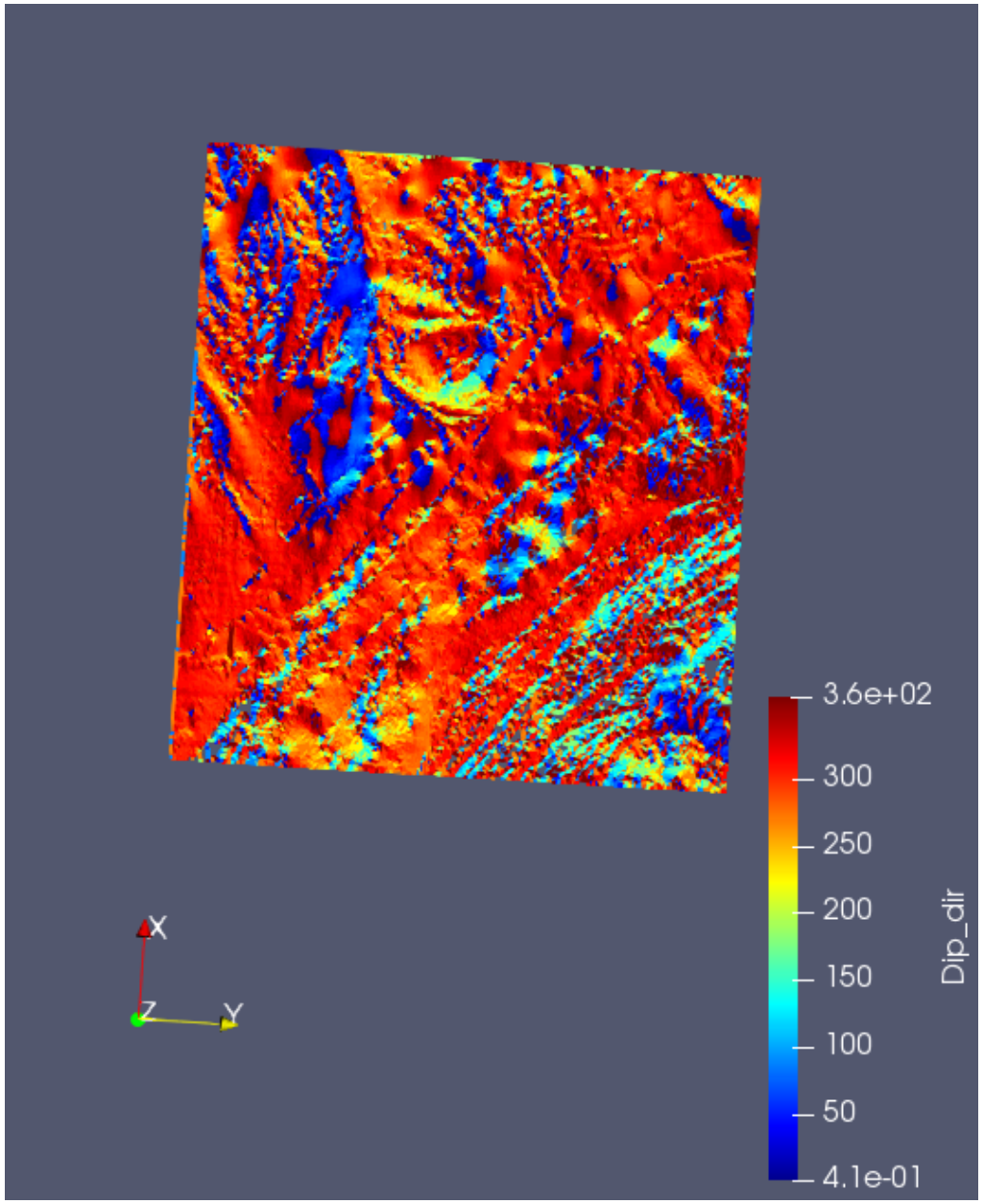

Surface Orientation Clustering

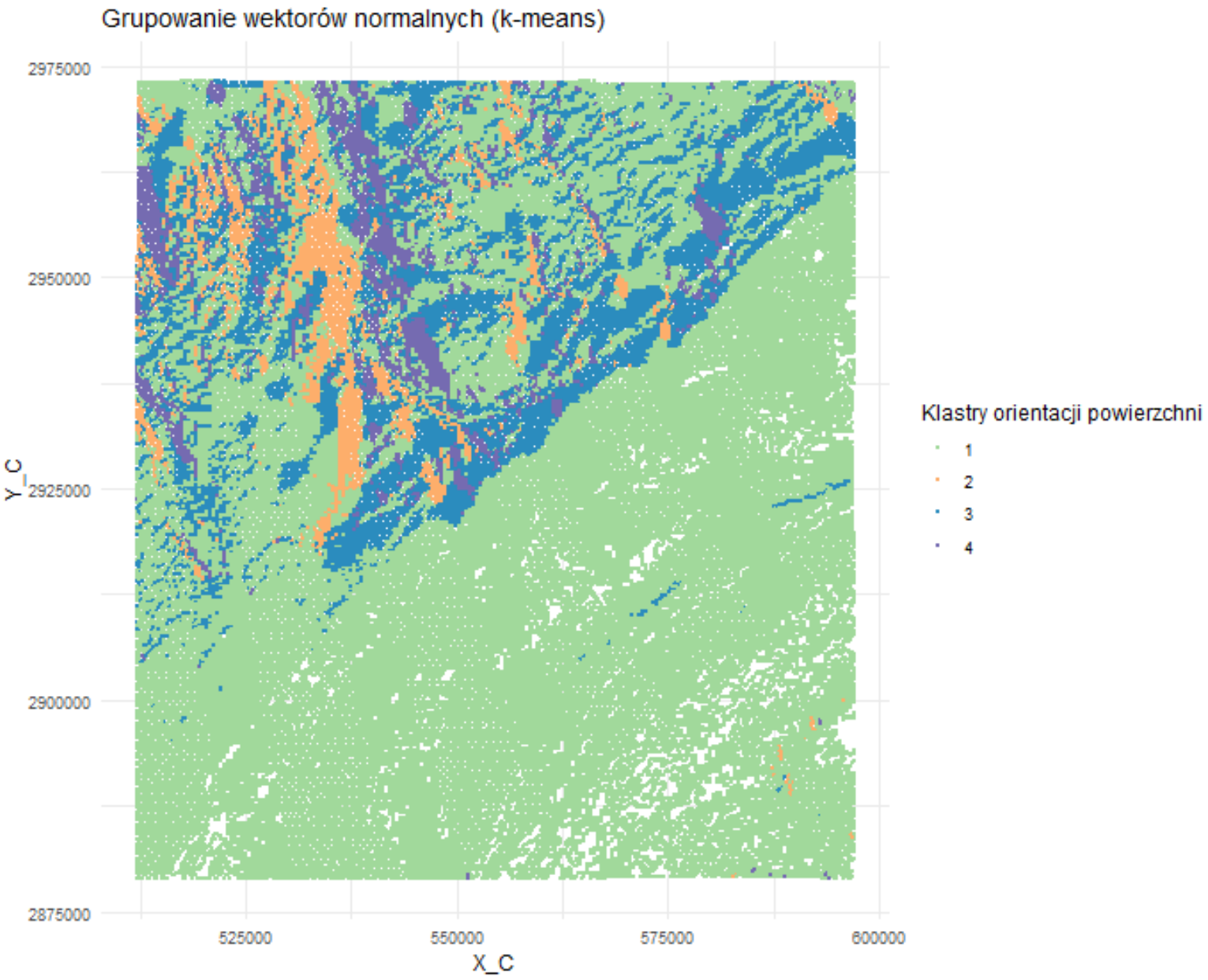

Stereonet - Surface Orientation

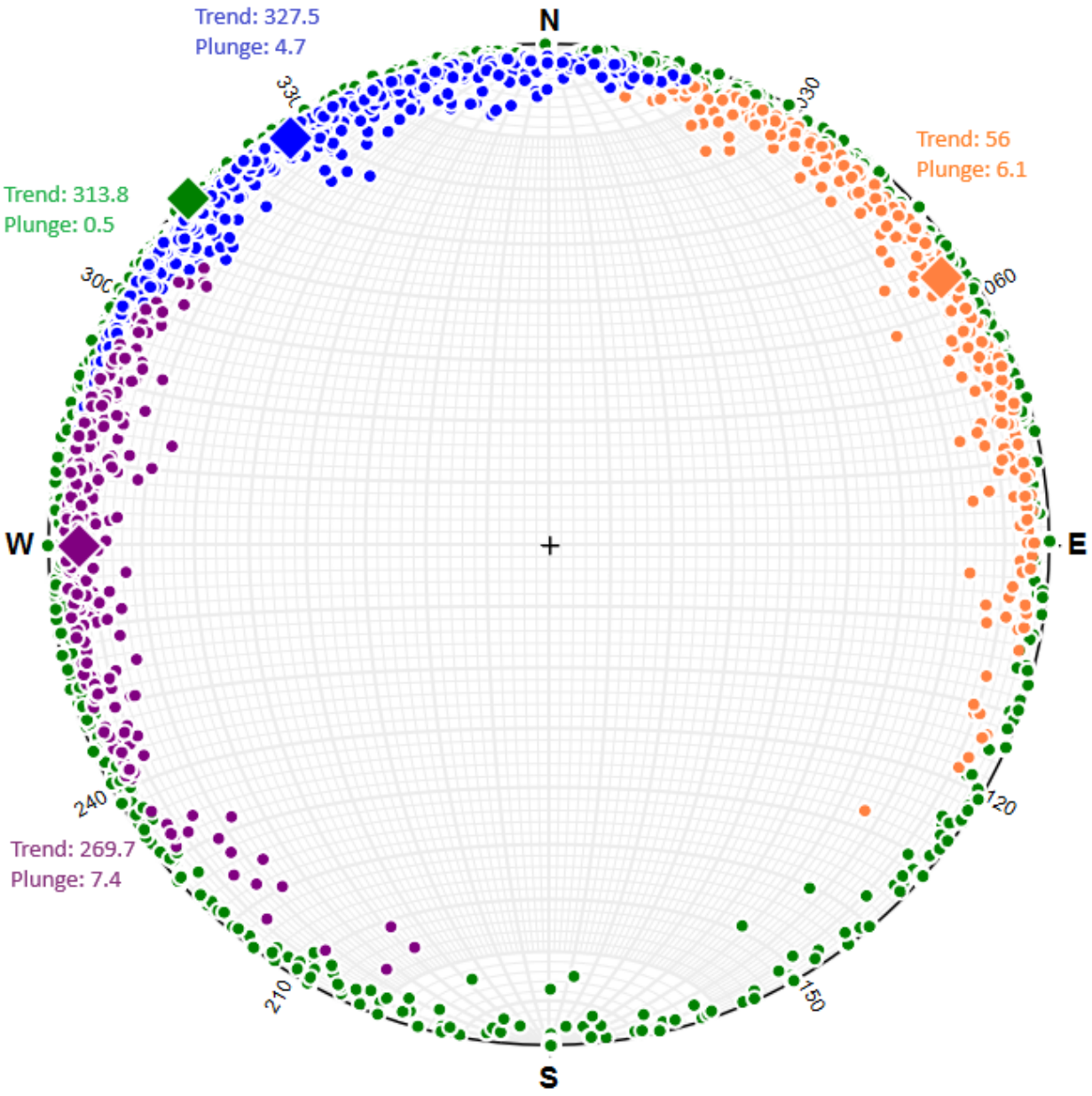

Slope Direction Clustering

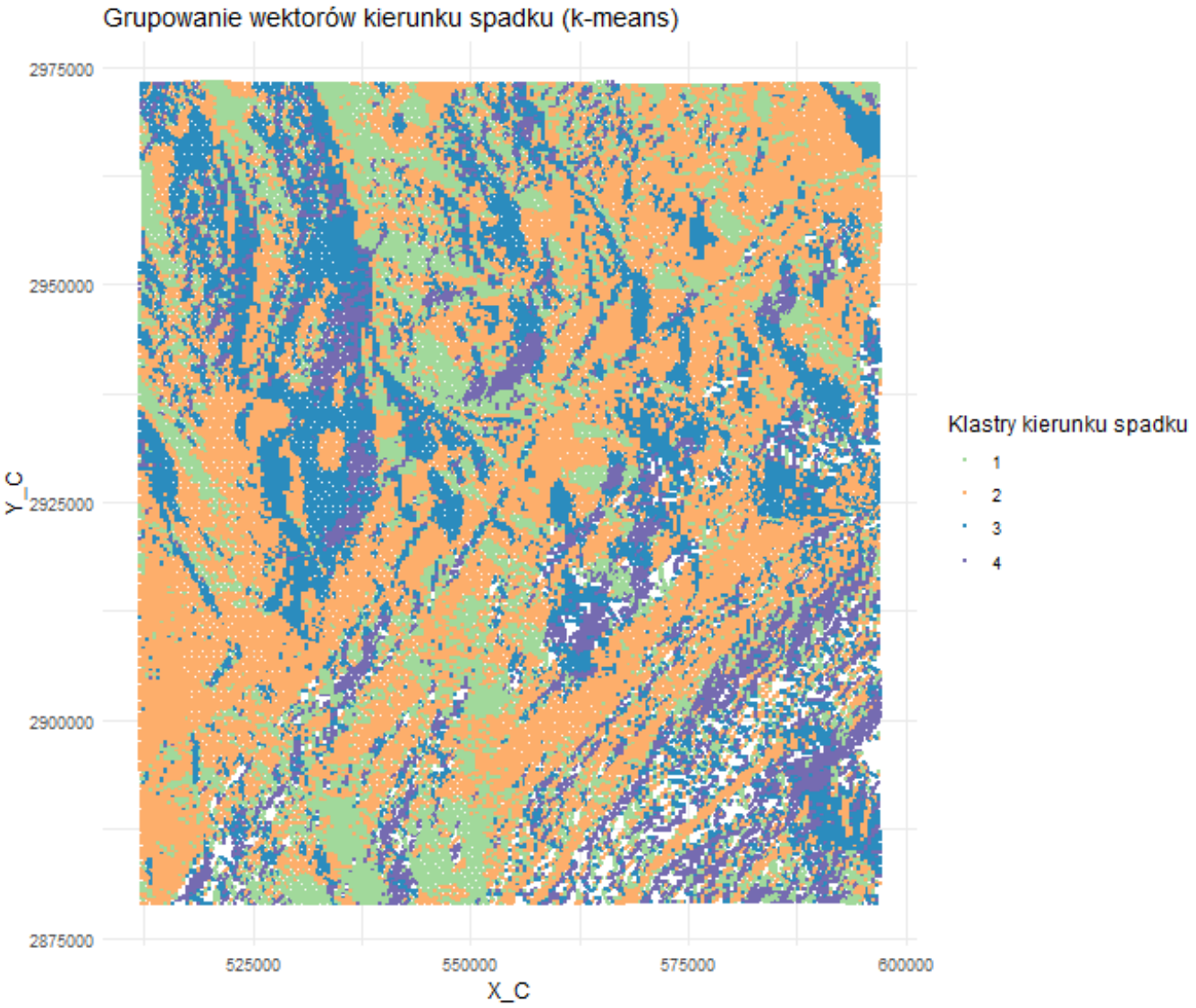

Stereonet - Slope Directions

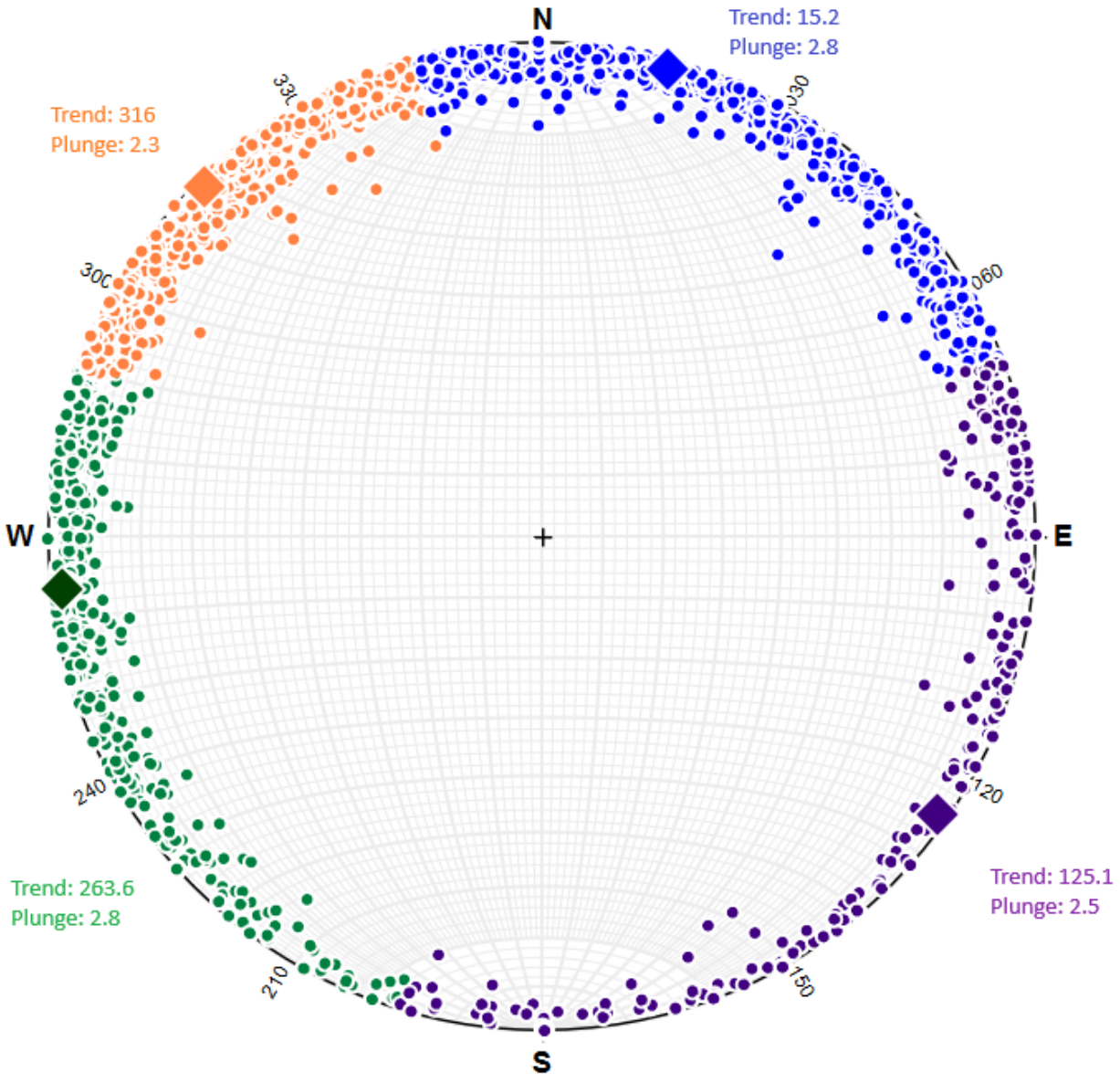
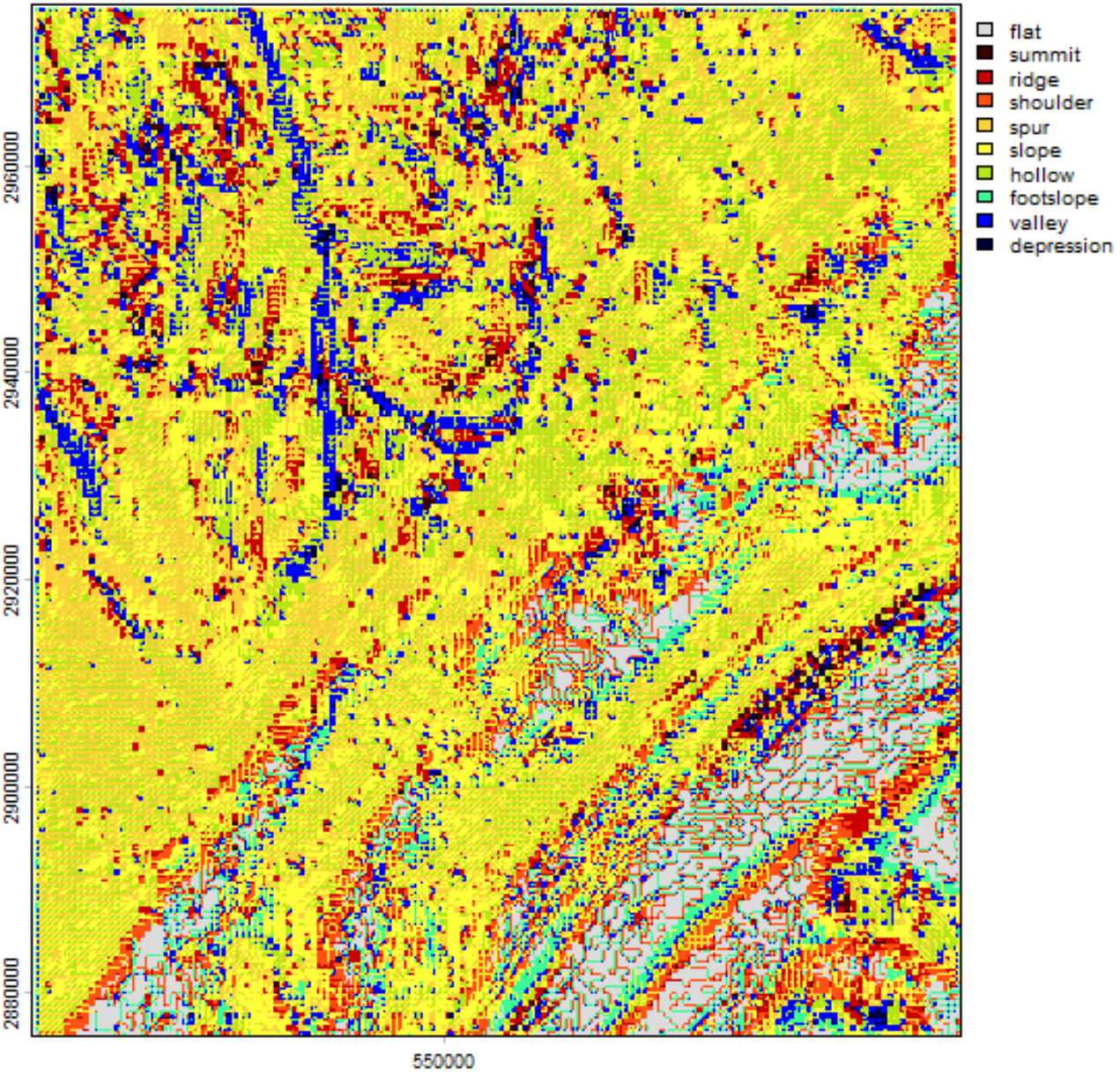
Geomorphon Map